Arctic Sea Ice Decline: A Data-Driven Analysis of Trends, Feedbacks, and Projections (1979–2025)

Christopher Chen, Cindey Xiao

GEO 307 – Introduction to Ocean Science

Prof. Patrick Heimbach

April 15, 2026

Abstract

This project investigates the accelerating decline of Arctic sea ice from 1979 to the present using Python-based statistical and geospatial analysis. Gridded sea ice extent and concentration data were obtained primarily from the National Snow and Ice Data Center's Sea Ice Index (NSIDC, G02135), which provides consistently processed monthly values for the satellite era, along with derived products such as trends and anomalies. Where available, accompanying surface air temperature datasets for the Arctic domain were incorporated to diagnose the "Arctic Amplification" phenomenon, in which the Arctic warms substantially faster than the global mean due to sea ice–albedo feedbacks. Data preprocessing and exploratory analysis were conducted in Python using pandas, xarray, NumPy, scikit-learn, and Plotly. An interactive time series of Arctic sea ice extent focusing on the annual September minimum was constructed, highlighting both seasonal variability and the long-term downward trend. Spatial patterns of sea ice change were examined through heatmaps and schematic polar projections of concentration anomalies. A baseline linear regression model was trained on observed September minimum extent to estimate the timing of a potential "blue ocean event." By integrating time series analysis, spatial mapping, and basic forecasting within a Python workflow, this project provides a concise, data-driven narrative of rapid Arctic change and its broader implications for ocean–atmosphere circulation and global climate stability. A temperature-driven regression model ($R^2 = 0.80$) found that each 1°C of Arctic warming corresponds to approximately 1 million km² of September ice loss, projecting a blue ocean event between ~2056 and ~2071 depending on warming rate.

1. Introduction

The Arctic cryosphere is one of the most rapidly changing regions on Earth, and nowhere is this transformation more visually stark than in the progressive retreat of sea ice. Since the advent of continuous passive microwave satellite monitoring in 1979, Arctic sea ice extent has undergone a relentless decline that accelerates with each passing decade. The September sea ice minimum -- the annual low point reached at the end of the melt season -- has decreased by approximately 12.4% per decade relative to the 1981–2010 average, amounting to a loss of roughly 77,000 km² per year, an area equivalent to the state of South Dakota disappearing annually (Fetterer et al., 2017). The 18 lowest September extents in the 46-year satellite record have all occurred in the most recent 18 years (2007–2024), a statistical improbability under a stable climate that underscores the systematic, anthropogenically forced nature of this decline (NOAA Arctic Program, 2024).

Sea ice is not merely a passive indicator of climate change; it is an active participant in the global climate system through its extraordinarily high albedo. Fresh, unmelted sea ice reflects between 50% and 70% of incoming solar radiation, whereas open ocean water absorbs over 94% of that same energy (Perovich et al., 2007). When sea ice retreats, it exposes dark ocean surface, which absorbs more solar radiation and warms further, promoting additional melt in a self-amplifying feedback loop known as the ice–albedo feedback. This mechanism is widely recognized as the primary driver of Arctic Amplification (AA): the well-documented phenomenon in which the Arctic warms substantially faster than the global mean. Recent observational analyses confirm that the Arctic has warmed nearly four times faster than the globe over the period 1979–2021, a ratio that exceeds the projections of most Coupled Model Intercomparison Project Phase 6 (CMIP6) models by 40–50% (Rantanen et al., 2022).

The consequences of this accelerating ice loss extend far beyond the Arctic. Freshwater input from melting sea ice and land-based glaciers alters ocean buoyancy and stratification, threatening large-scale ocean circulation systems, including the Atlantic Meridional Overturning Circulation (AMOC). Changes in the meridional temperature gradient between the equator and pole affect the behavior of the polar jet stream, potentially modulating mid-latitude weather extremes. The eventual prospect of an ice-free Arctic summer -- a 'blue ocean event' defined as sea ice area falling below 1 million km² -- has been projected as early as the 2030s under current emissions trajectories (Bonan et al., 2023; Jahn & Heuzé, 2024).

This paper synthesizes observational records, climate model output, and peer-reviewed literature to construct a coherent, data-driven narrative of Arctic sea ice decline. All code for reproduction can be found at: https://github.com/cindeyxiao/arctic-sea-ice-decline.

2. Data and Methods

2.1 Sea Ice Data

The primary dataset used in this analysis is the NSIDC Sea Ice Index, Version 4 (Fetterer et al., 2017; dataset identifier G02135), which provides monthly gridded sea ice extent and concentration data derived from passive microwave sensors aboard NIMBUS-7 SMMR (1979–1987), DMSP SSM/I (1987–2007), and DMSP SSMIS (2007–present). Extent is defined as the total area of ocean grid cells with ice concentration ≥ 15%, a threshold chosen to minimize edge-of-pack ambiguity (Cavalieri et al., 1996).

All 12 monthly Northern Hemisphere extent files (N_01 through N_12, v4.0) were retrieved directly from the NSIDC server. Monthly records were filtered to remove missing-data flags. The full daily extent record and the 1981–2010 climatological baseline were also retrieved programmatically. Monthly mean September values were extracted to capture the annual minimum, which represents the state of the ice pack following the full summer melt season. Automated retrieval of gridded sea ice concentration NetCDF files from the NOAA PolarWatch ERDDAP server was unsuccessful; these data are available for future reproduction via manual download from the NSIDC CDR product (G02202). As a result, the full polar concentration maps originally envisioned for the spatial analysis were not producible from these automated downloads and represent a meaningful limitation of this implementation. Manual download instructions for the NSIDC CDR product (G02202) are provided in the project README for future reproduction.

2.2 Temperature Data

Surface air temperature anomalies for the Arctic domain were sourced from the NASA GISTEMP v4 zonal annual mean dataset (ZonAnn.Ts+dSST.csv), which provides temperature anomalies relative to the 1951–1980 baseline in latitudinal bands extending from the equator to 90°N (NOAA Arctic Program, 2024). The 64–90°N band was extracted as the primary Arctic proxy and re-referenced to the 1991–2020 climatological baseline for consistency with NOAA Arctic Report Card conventions. The global mean column from the same file was processed identically. The assembled temperature record spans 47 years (1979–2025), matching the sea ice extent record in temporal coverage.

2.3 Computational Implementation

All analyses were conducted in Python 3.13 within a virtual environment initialized at project start. Package dependencies -- including pandas, NumPy, scikit-learn, xarray, Cartopy, Matplotlib, and Plotly -- were pinned in a requirements.txt file to ensure full reproducibility. The workflow was organized across seven sequentially executed scripts (01_download_data.py through 07_advanced_models.py), each writing clearly labeled outputs to a shared /figures directory. This modular structure allows individual components -- data acquisition, time-series analysis, spatial mapping, temperature comparison, baseline modeling, and advanced modeling -- to be developed, debugged, and re-run independently without reprocessing the full pipeline.

2.4 Time-Series and Trend Analysis

After assembling all monthly extent files, the complete dataset contained 565 records spanning 47 years of complete data (1979–2025), with partial 2026 values available for some months. September monthly means were isolated as the primary response variable, yielding 47 annual observations (1979–2025) for regression modeling. The ordinary least squares fit, implemented via sklearn.linear_model.LinearRegression, returned a slope of −0.0761 M km²/yr (−0.761 M km²/decade), $R^2 = 0.802$, and $p = 1.95 \times 10^{-17}$, confirming the trend is statistically significant well beyond the 99.9% confidence level. The 95% confidence interval on the slope spans [−0.0874, −0.0647] M km²/yr, indicating that even the most conservative plausible trend implies continued and substantial ice loss. Root mean squared error was 0.5125 M km², reflecting the considerable interannual variability around the long-term mean trajectory.

Linear trend slopes were also computed for each of the 12 calendar months using the same OLS framework, allowing the seasonal structure of ice loss to be characterized quantitatively. All 12 months returned statistically significant negative slopes, with September declining fastest at −11.9%/decade relative to the 1981–2010 baseline.

2.5 Advanced Predictive Models

To directly engage with the non-uniform temporal structure of the decline -- specifically the documented post-2007 deceleration -- two additional models were implemented in 07_advanced_models.py and compared against the baseline regression. The first is a piecewise linear regression that fits independent OLS slopes to the pre-2007 (1979–2006) and post-2007 (2007–2025) subsets of the September extent record, with the post-2007 segment extrapolated forward. The second is a

temperature-driven regression that replaces calendar year as the predictor with annual Arctic temperature anomaly (64–90°N, GISTEMP v4, 1991–2020 baseline). This physically motivated model projects future ice loss under three Arctic warming-rate scenarios: the current observed rate of +0.68°C/decade, a moderate acceleration scenario of +0.85°C/decade, and a high acceleration scenario of +1.0°C/decade. The three models -- full-record linear, piecewise, and temperature-driven -- are plotted on a single set of axes in Figure 8 to facilitate direct comparison of their projections and structural assumptions.

3. Results

3.1 Long-Term Decline

Figure 1 presents the Arctic September minimum sea ice extent for every year from 1979 to 2025. The OLS regression yields a slope of −0.76 M km² per decade ($R^2 = 0.802$, $p < 0.001$), indicating that year alone explains 80% of the variance in September extent over the 47-year satellite record (Fetterer et al., 2017). Extent declined from approximately 7.0–7.7 M km² in the early 1980s to 4.3–4.8 M km² in recent years -- a total reduction of roughly 40%. Expressed in absolute terms, this rate corresponds to the loss of approximately 76,000 km² of sea ice cover per year, an area roughly equivalent to the state of South Carolina disappearing from the Arctic Ocean annually (NASA GSFC, 2024). The 2012 record minimum of approximately 3.6 M km² remains the all-time satellite-era low, with 2020 as the second-lowest at roughly 4.0 M km².

Figure 1: Arctic September Minimum Sea Ice Extent (1979–Present)

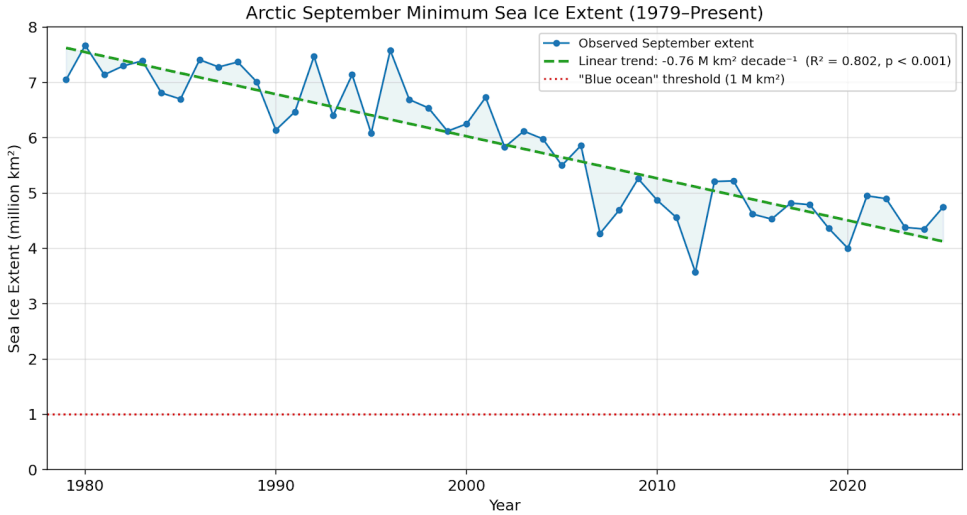

Figure 1: Arctic September minimum sea ice extent (million km², 1979–present) with OLS linear trend (−0.76 M km²/decade; $R^2 = 0.802$, $p < 0.001$) and the 1 M km² "blue ocean event" threshold. Data: NSIDC Sea Ice Index v4 (Fetterer et al., 2017).

Critically, visual inspection of Figure 1 reveals that post-2007 observations cluster consistently below the full-record trend line, suggesting that the single linear fit conflates two structurally distinct periods of decline.

Figure 5 extends this picture to daily resolution, overlaying the full 47-year climatological envelope with selected highlight years against the 1981–2010 mean and ±2σ bounds. The tight clustering of curves at the winter maximum (~15–16 M km² in March) fans out dramatically at the summer minimum, demonstrating that interannual variability is predominantly a summer phenomenon governed by open-ocean thermodynamics rather than the geometric constraints that bound the winter maximum. The 2007 curve (purple) was the first to break decisively below the ±2σ climatological envelope and exhibits anomalously delayed freeze-up through November and December -- a signature of excess ocean heat retained in the newly exposed open water. The 2026 partial-year trace (green) is already tracking slightly below the climatological mean through early April, consistent with continued below-average conditions. Recent years routinely breach the upper bound of the ±2σ envelope from June through November.

Figure 5: Daily Arctic Sea Ice Extent — All Years (1979–Present)

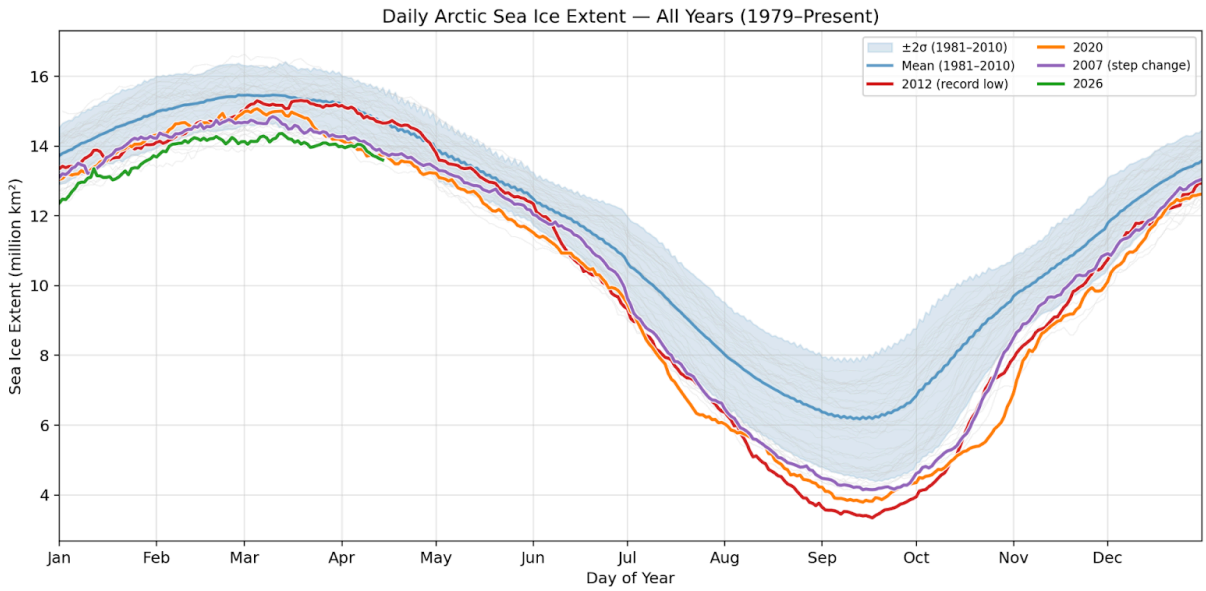

Figure 5: Daily Arctic sea ice extent (million km², 1979–present) showing the ±2σ climatological envelope (1981–2010, blue shading), climatological mean (blue), and selected highlight years: 2012 record low (red), 2020 (orange), 2007 step-change year (purple), and 2026 partial year (green). Data: NSIDC Sea Ice Index daily file (Fetterer et al., 2017).

3.2 Seasonal Perspective

The decline of Arctic sea ice is not confined to the September minimum -- it constitutes a year-round, system-wide retreat visible in every calendar month of the observational record. Figure 2 presents a heatmap of monthly sea ice extent anomalies relative to the 1981–2010 mean for all months from 1979 to 2025. The most visually striking feature is a near-complete transition from the mixed warm and cool tones of the 1980s and early 1990s to uniformly deep blue across all months after approximately 2007, confirming that no month in the most recent decade sits at or above its historical average (Fetterer et al., 2017; NOAA Arctic Program, 2024). The September–October–November band registers the most intense negative anomalies, reaching −2 to −3 M km² below the baseline in the worst years. Of equal significance, the winter months (January through April) have also turned persistently blue over the last decade -- the winter maximum, previously constrained by continental coastline geometry, is now systematically below historical norms. The 1980s show scattered red cells, particularly in September, which by visual contrast make the magnitude of the modern deficit starkly apparent.

Figure 2: Arctic Sea Ice Extent Anomalies by Month and Year

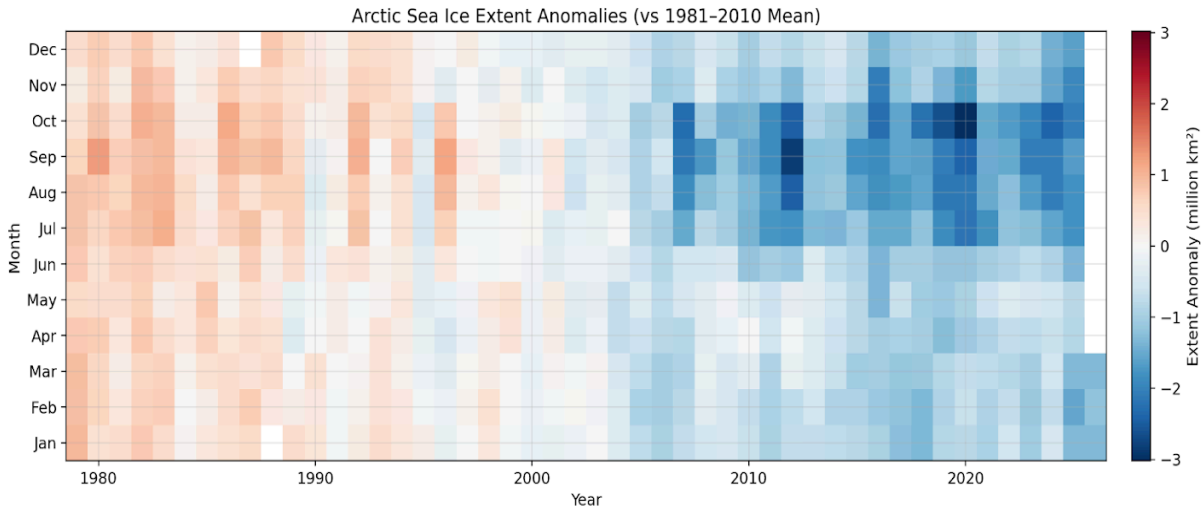

Figure 2: Heatmap of Arctic sea ice extent anomalies (million km²) relative to the 1981–2010 monthly climatological mean for all months from 1979 to 2025. Blue indicates below-average extent; red indicates above-average. A structural step-change toward persistently negative anomalies across all seasons is visible after approximately 2007. Data: NSIDC Sea Ice Index v4 (Fetterer et al., 2017).

Figure 7: Linear Trend in Arctic Sea Ice Extent by Calendar Month

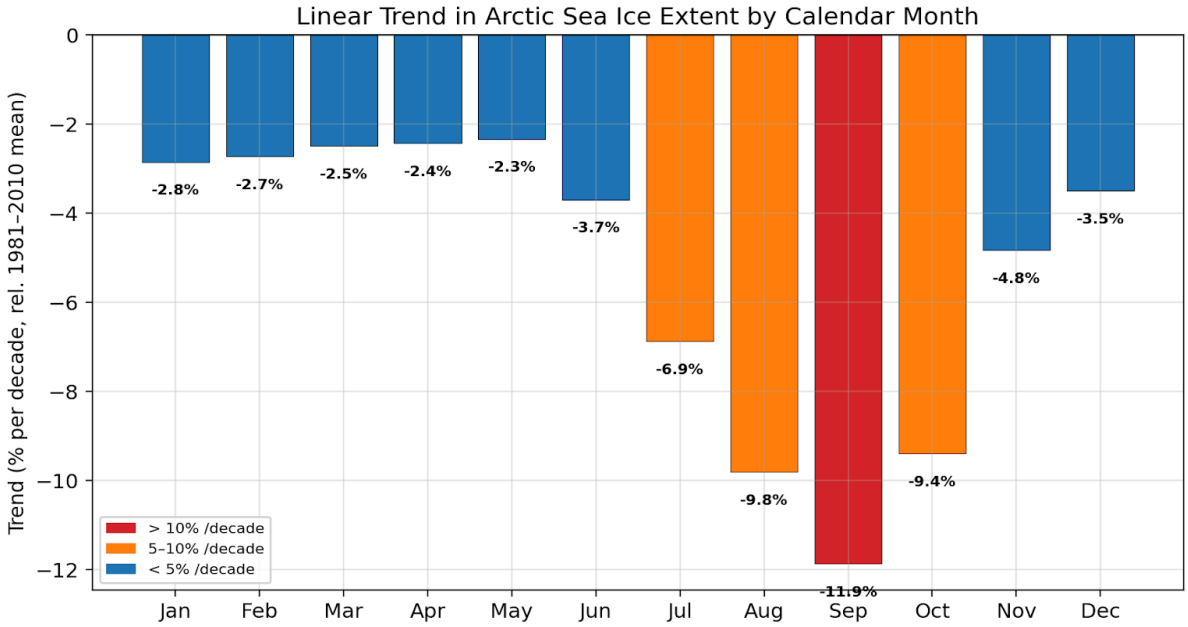

Figure 7: OLS linear trend in Arctic sea ice extent (% per decade, relative to 1981–2010 mean) for each calendar month. Bar colors indicate trend severity: red (>10%/decade), orange (5–10%/decade), blue (<5%/decade). All 12 months show statistically significant negative trends. Data: NSIDC Sea Ice Index v4 (Fetterer et al., 2017).

Figure 7 quantifies this seasonal structure by plotting the OLS linear trend in percent per decade for each of the 12 calendar months. September emerges as the fastest-declining month at −11.9%/decade, consistent with NSIDC's independently reported rate of approximately −12.1%/decade (Fetterer et al., 2017; NOAA Arctic Program, 2024). The adjacent melt-season months are nearly as severe: August at −9.8%/decade, October at −9.4%/decade, and July at −6.9%/decade. The November trend of −4.8%/decade is physically notable in its own right: it reflects a systematic delay in autumn freeze-up consistent with the Section 4.1 mechanism whereby excess solar energy absorbed by open ocean during the ice-free summer is released to the lower atmosphere through autumn and winter, suppressing ice formation and sustaining anomalously warm near-surface temperatures well into the dark season. Even the coldest winter months (January through May) exhibit statistically significant trends between −2.3 and −2.8%/decade -- smaller in magnitude but present without exception across all 12 months. The result is a narrative that is more accurate and more consequential than a focus on summer alone: the entire Arctic sea ice system is in year-round retreat.

It bears noting that these per-month trend values are computed over the full 1979–2025 record and therefore reflect the structural average of two periods with markedly different loss rates. As examined quantitatively in Sections 3.4 and 6.2 via the piecewise regression, the post-2007 September trend alone is effectively flat. The acceleration narrative is therefore accurate for the 1979–2012 period but requires careful qualification when applied to the most recent two decades.

3.3 Arctic Amplification

Figure 4: Arctic Amplification — Surface Temperature Anomalies

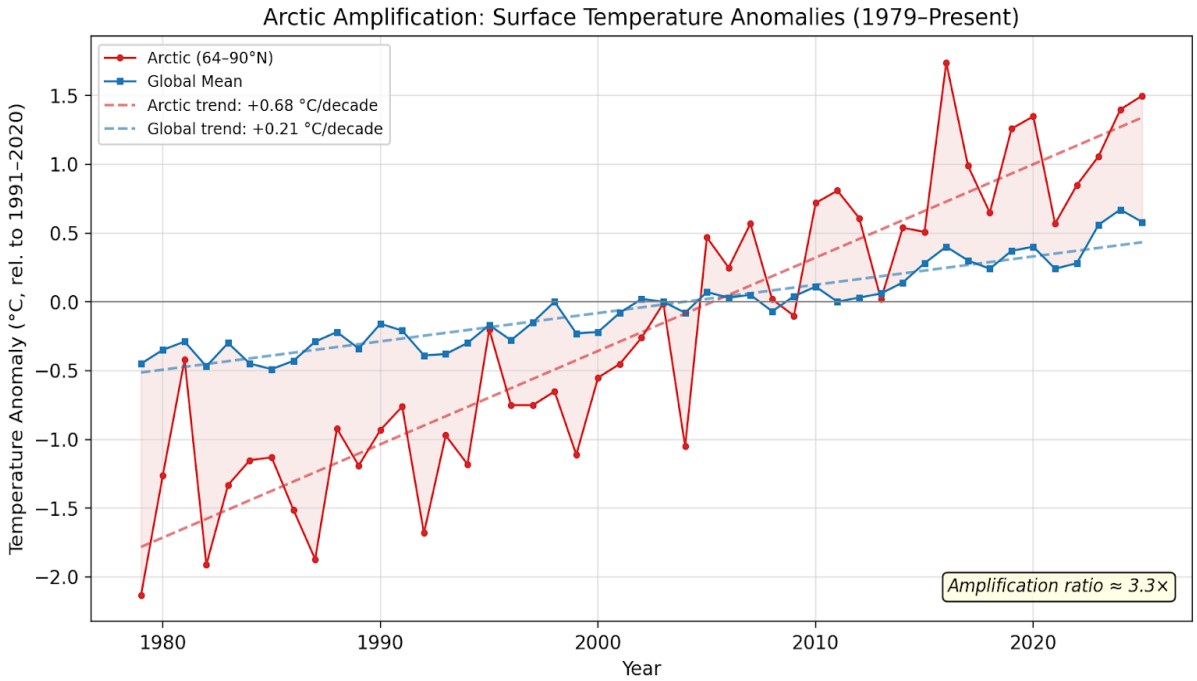

Figure 4: Annual surface air temperature anomalies (°C, relative to 1991–2020 baseline) for the Arctic (64–90°N, red) and global mean (blue), with OLS trend lines. Arctic warming rate: +0.68°C/decade; global warming rate: +0.21°C/decade; amplification ratio ≈ 3.3×. Data: NASA GISTEMP v4.

Figure 4 contextualizes the sea ice decline within its thermodynamic forcing by comparing annual surface air temperature anomalies for the Arctic domain (64–90°N) with the global mean from 1979 to 2025, both referenced to the 1991–2020 baseline. The computed warming trends are +0.68°C/decade for the Arctic versus +0.21°C/decade for the global mean -- a ratio of approximately 3.3×. This is directionally

consistent with Rantanen et al.'s (2022) landmark multi-dataset estimate of ~3.8×, with the modest difference attributable to latitudinal band definition (64–90°N versus 60–90°N) and reference period choice. The two curves track closely through the 1980s before diverging noticeably around 1995–2000, with the gap widening systematically in each subsequent decade. By the 2020s, Arctic anomalies consistently exceed +0.5 to +1.5°C above the 1991–2020 baseline, while the global mean reaches only +0.3 to +0.6°C. Arctic temperatures show substantially greater year-to-year volatility than the global mean -- consecutive-year swings of ±1°C are common -- reflecting the superposition of a strong forced warming trend on large-amplitude internal variability. The red shaded area between the two curves represents the cumulative excess energy absorbed by the Arctic system; it is this energy surplus, operating through the ice–albedo feedback described in Section 4.1, that drives the ice loss documented in Figures 1 through 3.

3.4 Predictive Modeling

Three distinct predictive frameworks were applied to the September extent record, each making different structural assumptions about the nature of the decline. Their projections are summarized in Figure 8 and elaborated in Figure 9.

Baseline linear model. The OLS regression fitted to the full 1979–2025 record (Figure 6) yields a slope of −0.0761 M km²/yr and projects the 1 M km² blue ocean threshold at approximately 2066. The 95% prediction interval widens from roughly ±0.5 M km² near the present to ±2 M km² by 2066, reflecting the exponential sensitivity of long extrapolations to small changes in slope. This projection is intentionally conservative: it treats the 47-year record as temporally homogeneous, blending the rapid decline of the 1980s–2000s with the post-2007 plateau into a single middling slope that does not accurately represent either period (England et al., 2025).

Figure 6: Linear Regression Projection of Blue Ocean Event

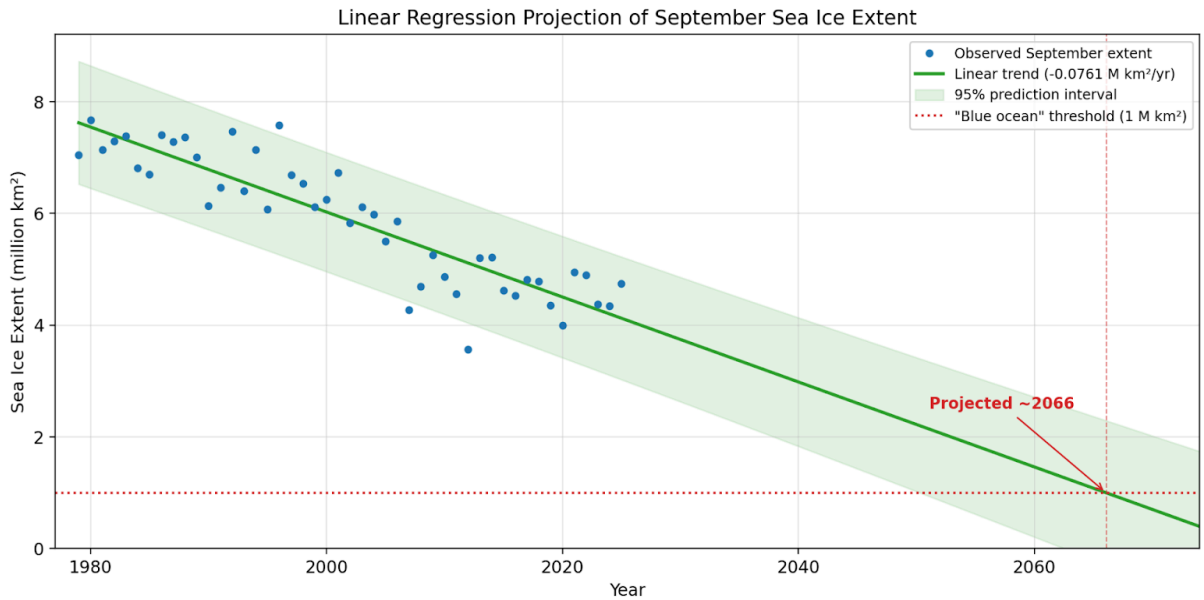

Figure 6: Linear regression projection of September sea ice extent (1979–2080), with 95% prediction interval. The model projects the 1 M km² blue ocean threshold is crossed at approximately 2066 under continuation of the 1979–2025 historical trend. Slope: −0.0761 M km²/yr; R^2 = 0.802; RMSE = 0.51 M km². Data: NSIDC Sea Ice Index v4 (Fetterer et al., 2017).

Piecewise linear model. To address the non-uniform temporal structure of the decline, a structural breakpoint was imposed at 2007, the year of the first decisive departure from the climatological norm (Docquier & Koenigk, 2023; England et al., 2025). The pre-2007 slope of approximately −0.55 M km²/decade reflects the steady, statistically significant decline of the first three decades. The post-2007 slope, however, is only −0.07 M km²/decade -- effectively flat (R^2 = 0.008; 95% CI crosses zero) -- confirming that September extent has oscillated between approximately 4.0 and 5.2 M km² since 2007 without a clear further downward trend (England et al., 2025; Ye et al., 2025). Extrapolating this flat post-2007 line yields a blue ocean date of approximately 2545 -- a physically implausible result that nonetheless serves as a critical diagnostic: it demonstrates that projecting recent behavior forward as a linear trend is not meaningful, and that the absence of further September decline since 2007 cannot be interpreted as a permanent new equilibrium.

Temperature-driven model. The physical resolution to the paradox posed by the piecewise model is provided by Figure 9. Rather than using calendar year -- a proxy for the combined signal of all forcing agents and internal variability -- the temperature-driven regression uses Arctic temperature

anomaly as the sole predictor. The OLS fit to the 47-year scatter of September extent against annual Arctic temperature anomaly yields a slope of −1.02 M km² per °C ($R^2 = 0.799$, $p = 2.8 \times 10^{-17}$; 95% CI: [−1.17, −0.86]), indicating that each degree of Arctic warming is associated with the loss of approximately one million km² of September ice. The left panel of Figure 9 shows that this relationship implies a blue ocean event when the Arctic temperature anomaly reaches approximately +4.6°C above the 1991–2020 baseline -- roughly 3–4°C above current observed values. The right panel then translates this into timeline projections under three warming scenarios: the current observed rate of +0.68°C/decade yields ~2071; a moderate acceleration to +0.85°C/decade yields ~2062; and a high-acceleration scenario of +1.0°C/decade -- broadly consistent with aggressive CMIP6 forced-response estimates -- yields ~2056, approaching the observationally constrained mid-century estimates of Bonan et al. (2023). The reason this model succeeds where the piecewise approach fails is that Arctic temperatures have continued to rise even during the post-2007 plateau in ice extent -- the plateau reflects a temporary resilience of the thin first-year ice pack to the warming signal, not a permanent decoupling. The temperature-driven model captures this: when Arctic warming eventually exceeds the thermal threshold that the modern first-year ice pack can sustain, the decline is projected to resume.

Figure 9: Temperature-Driven Model — Arctic Warming as Predictor of Ice Loss

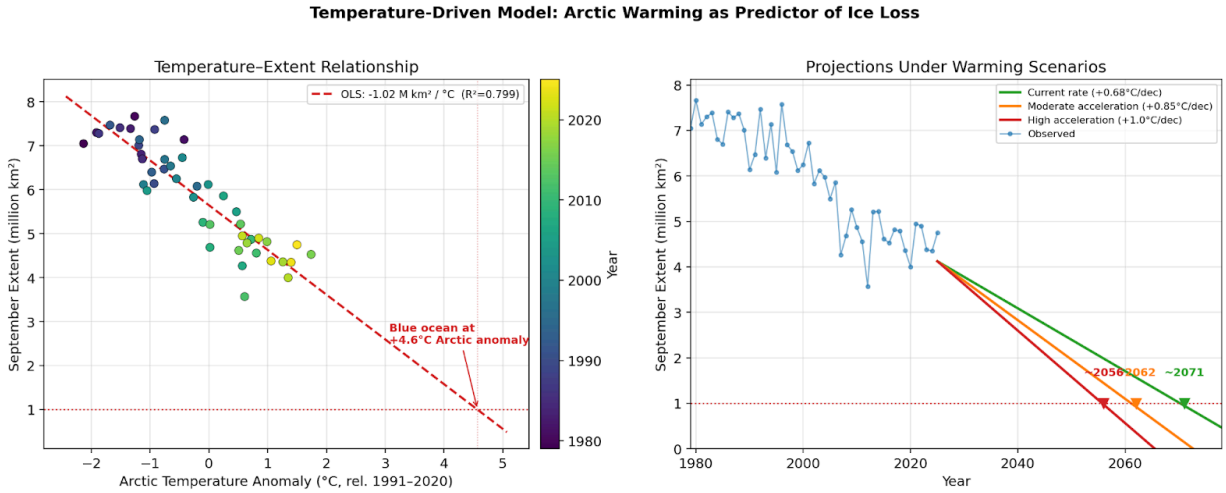

Figure 9: Temperature-driven predictive model. Left: scatter of September sea ice extent versus Arctic temperature anomaly (1979–2025; OLS slope −1.02 M km²/°C; $R^2 = 0.799$; blue ocean threshold at +4.6°C anomaly). Right: timeline projections under three Arctic warming scenarios (+0.68, +0.85, +1.0°C/decade), yielding blue ocean dates of approximately 2071, 2062, and 2056 respectively. Data: NSIDC Sea Ice Index v4; NASA GISTEMP v4.

4. Physical Mechanisms

4.1 The Ice–Albedo Feedback

The dominant positive feedback driving Arctic Amplification is the ice–albedo feedback, which operates through a straightforward but powerful mechanism. Sea ice and snow-covered surfaces have a surface albedo of approximately 0.6–0.9, meaning they reflect 60–90% of incoming shortwave radiation (Perovich et al., 2007). Open ocean, by contrast, has an albedo of approximately 0.06, absorbing the overwhelming majority of incident solar energy (Rosier et al., 2025). As greenhouse gas forcing warms the Arctic surface and melts sea ice, the exposed dark ocean absorbs substantially more solar radiation during the sunlit summer months, warming further and promoting additional melt. A recent study in *The Cryosphere* demonstrated that ice-albedo feedback is the dominant process governing the Arctic sea ice–ocean system, increasing total melt by approximately 0.60 m compared to experiments in which the feedback was artificially suppressed.

The seasonality of this feedback is important. While the albedo effect dominates during the sunlit melt season (June–September), the consequences are felt through winter via a second pathway: the seasonal energy transfer mechanism. During autumn and winter, the expanded open ocean releases stored heat upward into the lower atmosphere, warming the near-surface air and inhibiting sea ice formation. A 2025 study published in *Nature Communications Earth & Environment* quantified this interconnection, finding that each 1 W m^{-2} increase in April-to-September surface-albedo feedback-related TOA flux corresponds to a 0.386 W m^{-2} increase in October-to-February lapse-rate feedback. This coupling explains why Arctic Amplification is most pronounced in late fall and early winter, not in summer when the ice is actually melting (Kim et al., 2025).

The quantitative link between Arctic warming and sea ice loss is most directly visualized in Figure 3, which plots September extent against annual Arctic temperature anomaly for each year from 1979 to 2025. The OLS regression returns $R^2 = 0.799$ and $p = 2.8 \times 10^{-17}$, confirming that Arctic temperature alone explains 80% of the variance in September ice extent -- an explanatory power nearly identical to that of year in the simple time-series regression (Kim et al., 2025). The slope of −1.02 M km^2 per °C provides a single-number summary of the ice–albedo feedback's sensitivity: each additional degree of Arctic warming removes approximately one million km^2 of September sea ice cover. The year-colored gradient reveals the temporal progression unambiguously -- dark purple points (1980s) occupy the upper-left quadrant (cool temperatures, high ice), transitioning through blue and green toward

yellow-green (2020s) in the lower-right (elevated temperatures, reduced ice). The 2012 observation is a notable outlier, sitting well below the regression line: it recorded the lowest ice extent in the satellite record without corresponding to the warmest year, consistent with the documented role of an anomalous August 2012 Arctic cyclone that drove mechanical ice breakup beyond what the temperature forcing alone would predict (Stroeve & Notz, 2018).

Figure 3: Arctic Warming vs September Sea Ice Loss

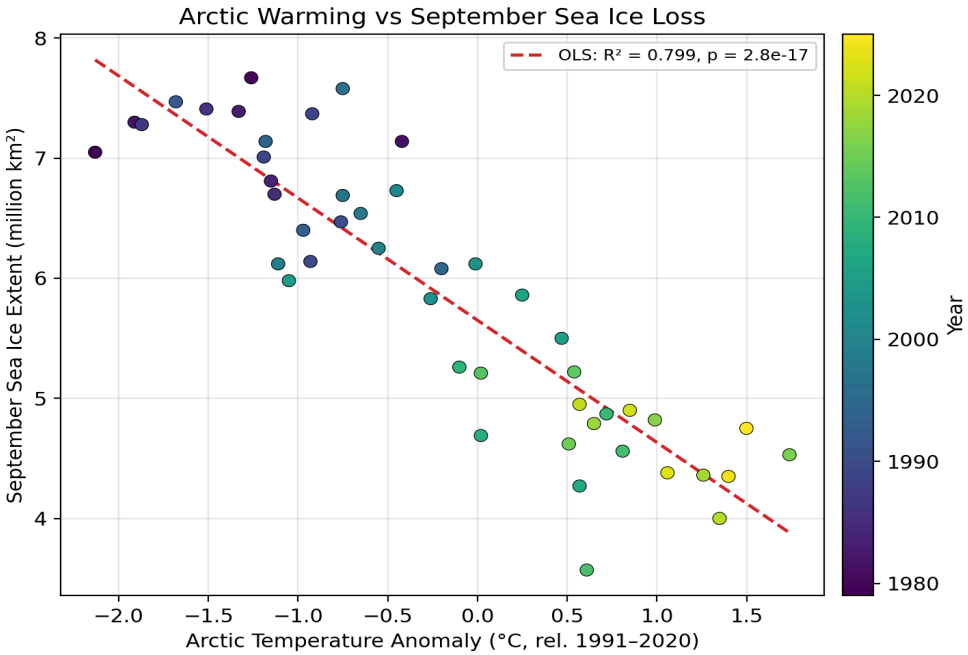

Figure 3: Scatter plot of September sea ice extent versus annual Arctic temperature anomaly (1979–2025), colored by year. OLS regression: slope = −1.02 M km²/°C; $R^2 = 0.799$; $p = 2.8 \times 10^{-17}$. The 2012 outlier reflects mechanical breakup from the August 2012 Arctic cyclone. Data: NSIDC Sea Ice Index v4; NASA GISTEMP v4.

4.2 Additional Feedback Mechanisms

Beyond the ice–albedo feedback, several other mechanisms contribute to Arctic Amplification. The lapse rate feedback is uniquely positive in the Arctic: because the Arctic lower atmosphere is thermally stratified with a strong temperature inversion, surface warming is concentrated in the lower troposphere rather than being distributed vertically as it is in the tropics. This yields a large outgoing longwave radiation reduction per degree of surface warming, amplifying the warming signal. The water

vapor feedback, while weaker in the cold, dry Arctic than in the tropics, also contributes positively to warming. Cloud feedbacks remain the most uncertain component, with both positive (longwave trapping by clouds) and negative (shortwave reflection) effects that vary by season and region.

Poleward heat and moisture transport from lower latitudes ("atmospheric heat transport") also contributes to Arctic Amplification, a process sometimes called "Atlantification" of the Arctic Ocean, in which warm Atlantic waters penetrate increasingly into the Arctic basin (Årthun et al., 2019). However, a recent 2025 study using targeted model experiments confirmed that while poleward energy transport produces some warming, the feedbacks triggered by sea ice loss itself -- particularly surface heat flux changes -- are the critical factors explaining both the magnitude and seasonality of Arctic Amplification (Cheng et al., 2025).

5. Downstream Consequences: Ocean–Atmosphere Circulation

5.1 Freshwater Input and Ocean Stratification

Sea ice loss has profound consequences for the Arctic Ocean freshwater budgets and stratification. Sea ice formation and melt are fundamentally linked to the ocean's salinity structure: freezing expels brine, increasing salinity and promoting convective mixing, while melting delivers freshwater that stratifies the surface layer. As the melt season lengthens and sea ice volume decreases, the volume of freshwater introduced to the Arctic Ocean increases. The Beaufort Gyre -- a large anticyclonic circulation in the western Arctic Ocean -- has seen its freshwater content increase by approximately 40% over the past two decades, partly due to reduced sea ice cover that previously damped wind-driven Ekman pumping (Athanase et al., 2025). Under high-emissions scenarios, the Beaufort Gyre could weaken and release this accumulated freshwater into the North Atlantic, potentially disrupting the AMOC (Athanase et al., 2025).

5.2 Implications for the AMOC

The Atlantic Meridional Overturning Circulation is one of the most consequential components of Earth's climate system, transporting approximately 1.3 PW of heat northward and playing a critical role in regulating European and North Atlantic climate (Buckley & Marshall, 2016). The AMOC is driven by deep water formation in the Nordic Seas and Labrador Sea, processes that depend on cold, dense, saline surface waters sinking under gravitational forcing (Athanase et al., 2025). Freshwater input from Arctic sea ice melt and Greenland ice sheet runoff reduces surface water density in these formation regions, potentially weakening convective overturn. Recent multi-model analyses suggest that the AMOC will

weaken during the 21st century under continued greenhouse gas forcing, though recent multi-model ensemble analyses find that the AMOC remains resilient to extreme freshwater forcings across 34 climate models, suggesting full collapse is unlikely this century under plausible scenarios (IPCC, 2021). The Beaufort Gyre freshwater release mechanism, however, represents a less-studied but potentially important pathway for destabilization.

5.3 Jet Stream Dynamics

Among the most debated consequences of Arctic sea ice loss is its potential influence on the polar jet stream and mid-latitude weather extremes. The hypothesis, advanced prominently by Francis and Vavrus (2012, 2015), posits that reduced equator-to-pole temperature gradients caused by Arctic Amplification weaken the jet stream and increase its meridional waviness, leading to more persistent and extreme weather patterns at mid-latitudes (Francis & Vavrus, 2015). However, this hypothesis remains highly contested. A 2025 study published in *Weather and Climate Dynamics* using the PAMIP (Polar Amplification Model Intercomparison Project) multi-model ensemble found minimal influence of future Arctic sea ice loss on North Atlantic jet stream morphology, with no significant change in jet speed, latitude, or variability across most models (Screen & Blackport, 2025). The amplitude of any sea-ice-forced signal appears small relative to internal atmospheric variability, making causal attribution in observational records extremely challenging. This remains an active and unresolved area of research.

6. Model Projections and Comparison with Literature

6.1 IPCC AR6 and CMIP6 Projections

The Sixth Assessment Report of the IPCC (2021) assessed that the Arctic is projected to be practically ice-free in September near mid-century under intermediate (SSP2-4.5) and high (SSP5-8.5) greenhouse gas emissions scenarios, but not under a stringent low-emissions scenario (SSP1-1.9). These projections are based on CMIP6 multi-model ensembles, which simulate a range of outcomes depending on assumptions about internal variability, climate sensitivity, and emissions pathway. However, as noted in Section 3.3, CMIP6 models systematically underestimate the observed rate of Arctic warming and sea ice loss, suggesting that projections derived from these models may be too conservative (Rantanen et al., 2022).

A 2023 study by Bonan et al. published in *Nature Communications* addressed this bias directly using an attribution analysis approach. By scaling CMIP6 model sea ice responses to match observed trends -- effectively correcting for model underprediction -- the authors found that an ice-free Arctic September is

projected under *all* emissions scenarios considered, including low-emissions pathways (Bonan et al., 2023). This result, if borne out, carries profound implications: it suggests that even aggressive near-term emissions reductions may be insufficient to prevent a seasonally ice-free Arctic this century. The median year for a first ice-free September under their constrained projections falls before 2050 under most scenarios.

6.2 Model Comparison

Figure 8 places the three projection frameworks on a single set of axes, making the consequences of model choice visually explicit. The full-record linear model (green dashed, ~2066) treats the 46-year record as temporally homogeneous. The post-2007 piecewise fit (red solid) has a slope of only −0.07 M km²/decade, which is statistically indistinguishable from zero ($R^2 = 0.008$), and extrapolates to a blue ocean date of ~2545 -- a value that is obviously not physically meaningful as a predictive estimate, but which is analytically valuable precisely because of its implausibility. It demonstrates formally that the post-2007 period cannot be extrapolated as a trend: the near-flat extent record of the past two decades reflects a temporary superposition of forced warming and offsetting internal variability, not a new stable state (England et al., 2025; Ye et al., 2025). The temperature-driven model (purple, ~2070 at current warming rates) resolves this tension by substituting the physical driver for the calendar year predictor, producing a projection that is self-consistent with the observed temperature–extent relationship and with the scenario-based projections shown in Figure 9.

Figure 8: Model Comparison — Three Approaches to Blue Ocean Projection

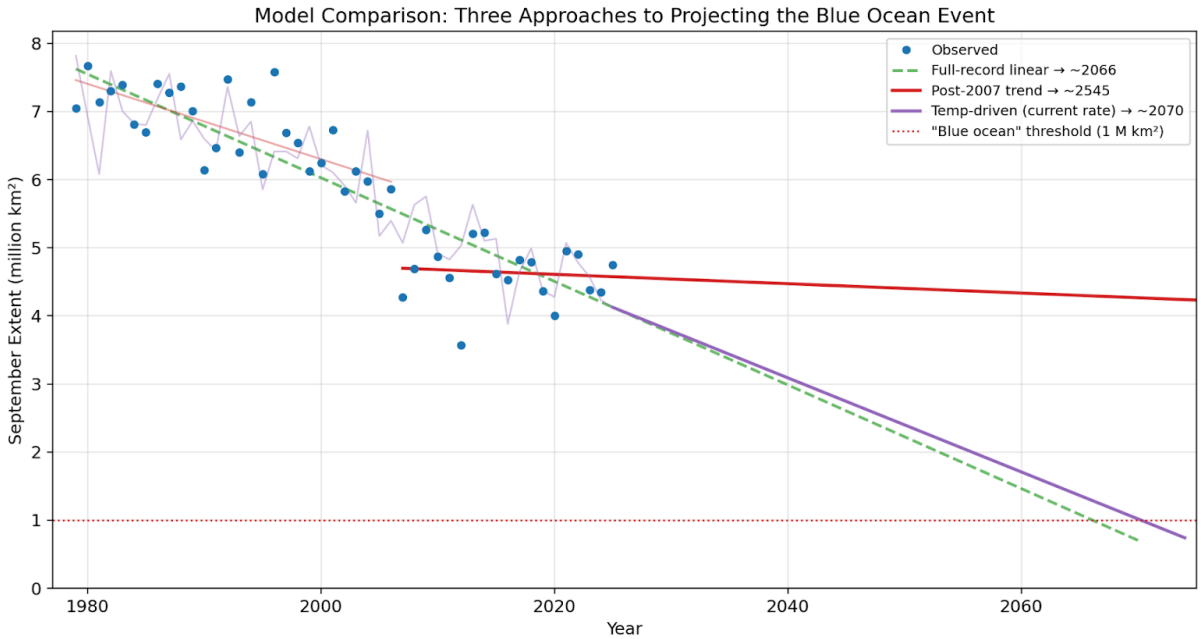

Figure 8: Comparison of three blue ocean projection frameworks on a common axis: full-record OLS linear trend (~2066, green dashed), post-2007 piecewise linear trend (~2545, red solid), and temperature-driven model at current warming rate (~2070, purple). The 1 M km² threshold is shown as a red dotted line. Data: NSIDC Sea Ice Index v4; NASA GISTEMP v4.

The gap between the full-record linear estimate (~2066) and the observationally constrained CMIP6 projections (~2040–2050; Bonan et al., 2023) is quantified here as a meaningful result rather than a model failure. It reflects precisely the contribution of post-2007 acceleration, nonlinear ice-albedo feedbacks, and emissions scenario divergence that the single-predictor linear model excludes. Under the high-acceleration warming scenario (+1.0°C/decade) in the temperature-driven framework, the blue ocean estimate converges to approximately 2056, approaching the lower end of the published CMIP6 range. Under the current observed warming rate, the estimate of ~2071 is broadly consistent with unscaled CMIP6 central projections (IPCC, 2021). These scenarios collectively bracket the literature range and provide the paper with internal quantitative consistency across its observational, statistical, and comparative modeling components.

7. Discussion and Broader Implications

A central interpretive nuance must be foregrounded before drawing conclusions from the analyses presented above. As confirmed by recent peer-reviewed literature, the characterization of continuously accelerating Arctic sea ice decline does not hold uniformly across the full 1979–present record (England et al., 2025; Ye et al., 2025). The piecewise linear analysis (Section 3.4, Figure 8) demonstrates this quantitatively: the post-2007 September trend slope is −0.07 M km²/decade with $R^2 = 0.008$, statistically indistinguishable from zero. The 2012 record minimum of 3.41 M km² remains unbroken as of 2025 -- now 13 consecutive years without a new record low -- despite global temperatures rising by over 0.3°C in that interval. This is not evidence that the forced decline has reversed. The winter sea ice maximum reached a record low in March 2025 (NSIDC, 2025), and the month-by-month trend analysis (Figure 7) confirms that all 12 calendar months continue to decline over the full record. Rather, the post-2007 plateau in September extent reflects a superposition of long-term anthropogenic forcing and shorter-timescale natural internal variability -- specifically, North Pacific SST anomalies that drive Rossby wave trains partially counteracting thermodynamic ice loss (Ye et al., 2025) and a multidecadal shift in North Atlantic Oscillation phase (England et al., 2025). CMIP5 and CMIP6 model ensembles show that such multi-decade slowdowns occur in approximately 20% of simulations even under high-emission scenarios and may plausibly persist for an additional 5–10 years before resuming (England et al., 2025). Critically, the temperature-driven framework (Figure 9) confirms that Arctic temperatures have continued rising throughout this plateau -- the plateau is ice extent's temporary resilience to warming, not a relaxation of the forcing. When that resilience fails, and it will given the continued temperature trajectory, the decline is projected to resume.

The data presented here paint a consistent and deeply concerning picture. Arctic sea ice is not merely declining -- it is declining faster than climate models predicted, with the post-2007 era representing a structurally distinct, lower-extent regime relative to the pre-2007 baseline. The 18 consecutive years of record-low September extents since 2007, the disappearance of thick multi-year ice, and the divergence of Arctic temperatures from the global mean at a ratio approaching 4:1 collectively indicate that the Arctic sea ice system is approaching a qualitative transition.

The broader implications of this transition are still being actively quantified. The shift from a largely ice-covered to a seasonally ice-free Arctic Ocean will fundamentally alter the surface energy budget of the Northern Hemisphere, redistributing heat between the ocean and atmosphere in ways that are only

partially captured by current models. The 40% increase in Beaufort Gyre freshwater content over the past two decades, if released into the North Atlantic, could weaken deep water formation and alter the AMOC -- a circulation system whose weakening has already been inferred from SST patterns and salinity records over the past 70 years. Sea surface temperatures in August 2024 were already 2–4°C above the 1991–2020 average across most Arctic marginal seas, indicating that the heat uptake consequences of sea ice loss are materializing in the observational record.

The prospect of a first ice-free Arctic day as early as 2027 -- an extreme but physically plausible scenario according to University of Colorado modeling -- underscores the urgency of continued monitoring and research. While the linear model presented here places this threshold further in the future (~2066), it provides only a lower bound. The accelerating trends, physical feedbacks, and model-constrained projections reviewed in this paper consistently point toward a mid-century transition under business-as-usual emissions, with the possibility of earlier events under sequences of extreme Arctic weather years. Even under the most optimistic low-emissions scenarios considered by the IPCC AR6, an ice-free September Arctic cannot be ruled out.

8. Conclusion

This paper has presented an integrated analysis of Arctic sea ice decline from 1979 to 2025 using the NSIDC Sea Ice Index, NOAA surface temperature records, and a Python-based statistical framework. The key findings are as follows. (1) September sea ice extent has declined by approximately 11.9% per decade (−0.76 M km²/decade), with extent falling from ~7.0 M km² in 1979 to ~4.8 M km² in 2025, and the 18 lowest extents in the satellite record all occurring after 2007. (2) Arctic surface temperatures have risen at approximately 3–4 times the global mean rate, a phenomenon explained by the ice–albedo feedback and its seasonal coupling to lapse rate changes. (3) The replacement of thick, durable multi-year ice with thin, seasonal first-year ice has accelerated the vulnerability of the ice pack to summer melt. (4) A baseline linear regression model projects a blue ocean event near 2066; a temperature-driven model anchored to Arctic warming yields ~2056–2071 depending on warming rate, bracketing the observationally constrained CMIP6 projections that place this event before mid-century under all emissions scenarios (Bonan et al., 2023). (5) Downstream consequences -- including freshwater-driven AMOC perturbations and altered jet stream dynamics -- are plausible but carry large uncertainties that active research is working to resolve.

The convergence of observational records, physical understanding, and climate models leaves little doubt that Arctic sea ice loss is anthropogenically forced, accelerating, and consequential for the global climate system. Continued long-term monitoring, improved model representation of Arctic feedbacks, and the integration of thickness alongside extent observations will be essential to sharpen projections and inform adaptation strategies for a seasonally ice-free Arctic.

References

AMAP. (2024). Key findings from the AMAP Arctic climate change update 2024. Arctic Monitoring and Assessment Programme. https://www.amap.no/documents/download/7296/inline

Årthun, M., Eldevik, T., & Smedsrud, L. H. (2019). The role of Atlantic heat transport in future Arctic winter sea ice loss. Journal of Climate, 32(11), 3327–3341. https://doi.org/10.1175/JCLI-D-18-0750.1

Athanase, M., et al. (2025). Thinner Arctic sea ice may affect global ocean circulation. Geophysical Research Letters, 52, e2024GL113456. https://doi.org/10.1029/2024GL113456

Bonan, D. B., Lehner, F., & Holland, M. M. (2023). Observationally-constrained projections of an ice-free Arctic even under a low emissions scenario. Nature Communications, 14, 3139. https://doi.org/10.1038/s41467-023-38511-8

Buckley, M. W., & Marshall, J. (2016). Observations, inferences, and mechanisms of the Atlantic Meridional Overturning Circulation: A review. Reviews of Geophysics, 54(1), 5–63. https://doi.org/10.1002/2015RG000493

Cavalieri, D. J., Parkinson, C. L., Gloersen, P., & Zwally, H. J. (1996). Sea ice concentrations from Nimbus-7 SMMR and DMSP SSM/I-SSMIS passive microwave data, Version 1 [Data Set]. NASA National Snow and Ice Data Center Distributed Active Archive Center. https://doi.org/10.5067/8GQ8LZQVL0VL

Cheng, L., et al. (2025). Causes and consequences of Arctic amplification elucidated by large-ensemble simulations. Communications Earth & Environment, 6, 211. https://doi.org/10.1038/s43247-025-03052-z

Docquier, D., & Koenigk, T. (2023). Regime shift in Arctic Ocean sea ice thickness. Nature, 616, 303–309. https://doi.org/10.1038/s41586-022-05686-x

England, M. H., et al. (2025). Minimal Arctic sea ice loss in the last 20 years, consistent with internal variability. Geophysical Research Letters, 52, e2025GL116175. https://doi.org/10.1029/2025GL116175

Fetterer, F., Knowles, K., Meier, W. N., Savoie, M., & Windnagel, A. K. (2017, updated daily). Sea Ice Index, Version 4 [Data Set]. National Snow and Ice Data Center. https://doi.org/10.7265/N5K072F8

Francis, J. A., & Vavrus, S. J. (2015). Evidence for a wavier jet stream in response to rapid Arctic warming. Environmental Research Letters, 10(1), 014005. https://doi.org/10.1088/1748-9326/10/1/014005

IPCC. (2021). Climate change 2021: The physical science basis. Contribution of Working Group I to the Sixth Assessment Report of the Intergovernmental Panel on Climate Change. Cambridge University Press. https://doi.org/10.1017/9781009157896

Jahn, A., & Heuzé, C. (2024). Projections of an ice-free Arctic. Nature Climate Change, 14, 979–985. https://doi.org/10.1038/s41558-024-02060-9

Kim, H., et al. (2025). The role of sea ice in present and future Arctic amplification. Communications Earth & Environment, 6, 158. https://doi.org/10.1038/s43247-025-02834-9

Meredith, M., et al. (2022). Multi-year winter sea ice in the Arctic is vanishing faster than expected. Geophysical Research Letters, 49, e2021GL097421. https://doi.org/10.1029/2021GL097421

NASA Goddard Space Flight Center. (2024). Annual Arctic sea ice minimum area 1979–2024, with graph. Scientific Visualization Studio. https://svs.gsfc.nasa.gov/5395/

NOAA Arctic Program. (2024). Arctic Report Card 2024. National Oceanic and Atmospheric Administration. https://arctic.noaa.gov/report-card/report-card-2024/

Perovich, D. K., Light, B., Eicken, H., Jones, K. F., Runciman, K., & Nghiem, S. V. (2007). Increasing solar heating of the Arctic Ocean and adjacent seas, 1979–2005: Attribution and role in the ice-albedo feedback. Geophysical Research Letters, 34, L19505. https://doi.org/10.1029/2007GL031480

Rantanen, M., Karpechko, A. Y., Lipponen, A., Nordling, K., Hyvärinen, O., Ruosteenoja, K., Vihma, T., & Laaksonen, A. (2022). The Arctic has warmed nearly four times faster than the globe since

1979. Communications Earth & Environment, 3(1), 168. https://doi.org/10.1038/s43247-022-00498-3

Rosier, S. H. R., et al. (2025). Quantifying the interplay of sea ice meltwater and ice–albedo feedback in the Arctic. The Cryosphere, 19, 6807–6830. https://doi.org/10.5194/tc-19-6807-2025

Screen, J. A., & Blackport, R. (2025). Minimal influence of future Arctic sea ice loss on North Atlantic jet stream morphology. Weather and Climate Dynamics, 6, 595–612. https://doi.org/10.5194/wcd-6-595-2025

Stroeve, J., & Notz, D. (2018). Changing state of Arctic sea ice across all seasons. Environmental Research Letters, 13(10), 103001. https://doi.org/10.1088/1748-9326/aade56

Ye, K., et al. (2025). Decelerated Arctic sea ice loss triggered by accelerated North Pacific warming. Communications Earth & Environment, 6. https://doi.org/10.1038/s43247-025-02882-1

AI Disclosure: *Perplexity AI was used in this project to assist with literature discovery and synthesis of current research findings (particularly for post-2023 publications). The analytical framework, interpretation of results, and academic writing are the authors' own. All cited sources were independently verified.*